RetroGuard: A Multi-Layered AI-Powered System for Automated Retroreflectivity Assessment on Indian National Highways

Smartphone Measurement, CCTV Intelligence Mining, Crowdsourced Dashcam Networks, and Predictive Digital Twin for Highway Safety Asset Management

6th NHAI Innovation Hackathon – Problem Statement: Retroreflectivity Measurement

---

Madhav Dogra **Aaditya Gaur**
6th NHAI Innovation Hackathon 2026
madhavdogra@gmail.com aaditya2605@gmail.com

April 2026

Abstract

Background: The National Highways Authority of India (NHAI) manages over 1,40,000 km of national highways equipped with traffic signs, pavement markings, road studs (RPMs), and delineators. Retroreflectivity — the ability of these safety assets to return light to its source — is critical for driver visibility at night and in adverse weather. Current measurement relies on handheld retroreflectometers (per IRC 67 and IRC 35), a process that is slow (∼2–5 measurements per hour for signs), dangerous on high-speed expressways, and fundamentally unscalable to the national highway network.
Objective: To design and prototype **RetroGuard**, a multi-layered, AI-powered system that automates retroreflectivity assessment using six complementary technologies, enabling continuous, network-wide monitoring with minimal new infrastructure investment.
Approach: RetroGuard operates through six synergistic layers: (1) a **smartphone retroreflectometer** app using calibrated flash/camera optics; (2) **existing CCTV footage mining** analyzing vehicle headlight reflections at night; (3) **retroreflective reference patches** for universal camera calibration; (4) a **crowdsourced dashcam intelligence network** leveraging fleet vehicles; (5) a **predictive digital twin** with ML-based degradation forecasting; and (6) **degradation-encoding QR codes** embedded during sign manufacturing. The AI pipeline employs YOLOv8/RT-DETR for object detection and a calibrated regression CNN for retroreflectivity coefficient (R_L) estimation.
Key Innovation: Each layer independently adds value using existing infrastructure, yet together they create a self-improving, predictive highway safety monitoring system that shifts maintenance from reactive to predictive — potentially preventing the estimated 1,50,000 annual road fatalities attributable in part to degraded signage visibility.

Keywords: Retroreflectivity, Highway Safety, Computer Vision, YOLO, Digital Twin, Crowdsourcing, Smartphone Sensing, Predictive Maintenance, NHAI, IRC 67, IRC 35, Pavement Markings, Traffic Signs

Contents

1 Introduction **4**
- 1.1 The Retroreflectivity Imperative . . . 4
- 1.2 Current Measurement Paradigm and Its Limitations . . . 4
- 1.3 Problem Statement . . . 5
- 1.4 Our Contribution: The RetroGuard System . . . 5
- 1.5 Paper Organization . . . 5

2 Background: Retroreflectivity Science and Measurement **5**
- 2.1 Physics of Retroreflection . . . 5
  - 2.1.1 Glass Bead Technology (Type I) . . . 5
  - 2.1.2 Microprismatic Technology (Type III/IV) . . . 6
- 2.2 Measurement Geometry Standards . . . 6
- 2.3 IRC Minimum Retroreflectivity Standards . . . 6
- 2.4 Degradation Mechanisms . . . 7
- 2.5 Existing Automated Measurement Technologies . . . 7

3 RetroGuard System Architecture **8**
- 3.1 Architecture Overview . . . 8
- 3.2 Design Principles . . . 8

4 Layer 1: Smartphone Retroreflectometer **9**
- 4.1 Core Insight . . . 9
- 4.2 Mathematical Foundation . . . 9
  - 4.2.1 Calibration Protocol . . . 9
- 4.3 Measurement Protocol . . . 9
- 4.4 Error Analysis . . . 10
- 4.5 Advantages Over Handheld Instruments . . . 10

5 Layer 2: Existing CCTV Footage Mining **10**
- 5.1 Core Insight . . . 10
- 5.2 Physical Basis . . . 10
- 5.3 Statistical Estimation from Multiple Vehicles . . . 11
  - 5.3.1 Vehicle Fleet Headlight Database . . . 11
- 5.4 Temporal Trending . . . 11
- 5.5 Processing Pipeline . . . 11

6 Layer 3: Retroreflective Reference Patches **12**
- 6.1 The Calibration Problem . . . 12
- 6.2 The Reference Patch Solution . . . 12
- 6.3 Mathematical Cancellation . . . 12
- 6.4 Patch Specifications . . . 13
- 6.5 Impact on Other Layers . . . 13

7 Layer 4: Crowdsourced Dashcam Intelligence Network **13**
- 7.1 Scale of Opportunity . . . 13
- 7.2 System Design . . . 13
- 7.3 Edge Processing for Privacy and Bandwidth . . . 13
- 7.4 Coverage Estimation . . . 14

8 Layer 5: Predictive Digital Twin **14**
8.1 Concept . . . 14
8.2 Asset Data Model . . . 14
8.3 ML Degradation Prediction . . . 14
8.3.1 Feature Engineering . . . 15
8.4 Maintenance Optimization . . . 15
8.5 Dashboard Design . . . 16

9 Layer 6: Degradation-Encoding QR Codes **16**
9.1 Self-Reporting Signs . . . 16
9.2 Design Principle . . . 16
9.3 QR Code Encoded Data . . . 17
9.4 Error Correction as Degradation Proxy . . . 17
9.5 Manufacturing Integration . . . 17

10 AI/ML Processing Pipeline **18**
10.1 Object Detection: Sign and Marking Recognition . . . 18
10.1.1 Model Architecture . . . 18
10.1.2 Detection Classes . . . 18
10.2 Retroreflectivity Estimation CNN . . . 18
10.2.1 Architecture . . . 19
10.2.2 Loss Function . . . 19
10.3 Training Data Strategy . . . 19
10.4 Multi-Condition Performance . . . 19

11 Prototype Implementation **20**
11.1 Technology Stack . . . 20
11.2 Prototype Scope (Hackathon Deliverable) . . . 20
11.3 Working Prototype — Screenshots . . . 20
11.4 Detection Model Training . . . 24

12 Feasibility and Cost-Benefit Analysis **24**
12.1 Deployment Cost Analysis . . . 24
12.2 Return on Investment . . . 24
12.3 Deployment Roadmap . . . 25

13 Evaluation Against Hackathon Criteria **25**

14 Conclusion **25**
14.1 Summary . . . 25
14.2 Key Differentiators . . . 26
14.3 Potential Impact . . . 26

References **27**

A API Specification for RetroGuard Cloud Platform **28**

B Smartphone Calibration Algorithm **29**

1 Introduction

1.1 The Retroreflectivity Imperative

Road traffic accidents claim approximately 1,53,972 lives annually in India (MoRTH, 2023), with a disproportionate share occurring at night and during adverse weather conditions. A significant contributing factor is degraded visibility of road signs, pavement markings, and delineators. **Retroreflectivity** — the optical property that enables these safety assets to return incident light from vehicle headlights back toward the driver — is the single most important measurable characteristic that determines their nighttime effectiveness.

Retroreflectivity is quantified by the coefficient of retroreflected luminance R_L, defined as:

$$R_L = \frac{L}{E_\perp} \quad \left[\frac{\text{mcd}}{\text{lx} \cdot \text{m}^2}\right] \tag{1}$$

where L is the luminance of the retroreflective surface as measured at the observation angle, and $E_\perp$ is the illuminance at the surface perpendicular to the incident light. For traffic signs, values of R_A (coefficient of retroreflection) are used:

$$R_A = \frac{I}{E_\perp \cdot A} \quad \left[\frac{\text{cd}}{\text{lx} \cdot \text{m}^2}\right] \tag{2}$$

where I is the luminous intensity of the retroreflected light and A is the area of the retroreflective surface.

1.2 Current Measurement Paradigm and Its Limitations

NHAI mandates retroreflectivity measurement per two Indian Roads Congress standards:

- **IRC 67:** Code of Practice for Road Signs — specifies minimum retroreflectivity for traffic signs using different grades of sheeting (Engineering Grade, High Intensity, Diamond Grade)
- **IRC 35:** Code of Practice for Road Markings — specifies minimum retroreflectivity for pavement markings, road studs, and delineators

The current measurement workflow suffers from critical limitations:

Table 1: Limitations of Current Handheld Retroreflectivity Measurement

Limitation	Impact
Speed	2–5 sign measurements per hour; marking measurements require stopping on the roadway
Safety	Inspector must stand on or beside high-speed expressways (80–120 km/h design speed)
Coverage	<1% of highway assets measured during typical O&M inspection cycles
Cost	Handheld retroreflectometers cost INR5–10 lakh each; trained operator required
Scalability	1,40,000+ km of highways with millions of individual safety assets
Weather Dependency	Cannot measure in rain, fog, or extreme conditions — precisely when retroreflectivity matters most
Subjectivity	Measurement angle, placement, and surface condition introduce significant variance

1.3 Problem Statement

NHAI seeks technology-driven innovative solutions for:

1. Retroreflectivity measurement by equipment mounted on Vehicle/Drone to take measurements speedily
2. Retroreflectivity determination by AI & ML techniques of data collected by Vehicle Mounted/Drone Camera
3. Combination of the above two approaches

Solutions must work across diverse conditions: Day/Night, Dry/Wet, With/Without street light, and Foggy weather on 2-lane, 4-lane, 6-lane, and 8-lane highways.

1.4 Our Contribution: The RetroGuard System

We propose **RetroGuard**, a comprehensive six-layer system that addresses all three NHAI solution categories simultaneously. Our key contributions are:

1. **Smartphone Retroreflectometer:** A zero-hardware-cost mobile app that turns any smartphone into a calibrated retroreflectometer, replacing instruments costing lakhs
2. **CCTV Intelligence Mining:** An AI pipeline that extracts retroreflectivity data from existing NHAI CCTV infrastructure with zero additional deployment cost
3. **Universal Calibration via Reference Patches:** A low-cost physical innovation that enables any camera to produce calibrated measurements
4. **Crowdsourced Dashcam Network:** A scalable data collection platform leveraging millions of fleet vehicles traversing national highways daily
5. **Predictive Digital Twin:** An ML-powered GIS platform that forecasts degradation and generates proactive maintenance schedules
6. **Degradation-Encoding QR Codes:** A manufacturing-integrated innovation that makes signs self-reporting

1.5 Paper Organization

Section 2 reviews retroreflectivity science and existing measurement technologies. Section 3 presents the complete RetroGuard system architecture. Sections 4–9 detail each of the six layers with mathematical foundations and implementation specifics. Section 10 describes the AI/ML pipeline. Section 11 discusses the prototype implementation. Section 12 analyzes feasibility and cost-benefit. Section 14 concludes with deployment roadmap.

2 Background: Retroreflectivity Science and Measurement

2.1 Physics of Retroreflection

Retroreflection occurs through two primary optical mechanisms:

2.1.1 Glass Bead Technology (Type I)

Transparent glass microspheres embedded in pavement markings and lower-grade sign sheeting achieve retroreflection through refraction and back-surface reflection. The optical path follows:

$$\theta_{refracted} = \arcsin\left(\frac{n_{air}}{n_{bead}} \sin\theta_{incident}\right) \tag{3}$$

For optimal retroreflection, the glass bead refractive index should satisfy $n_{bead} \approx 1.9$, ensuring that refracted rays focus on the back hemisphere of the bead. The retroreflected intensity follows:

$$I_{retro} = I_0 \cdot \rho_{mirror} \cdot T_{bead}^2 \cdot \eta_{geometry}(\alpha, \beta) \tag{4}$$

where I_0 is incident intensity, ρ_{mirror} is the reflectance of the backing material, T_{bead} is bead transmittance (squared for double-pass), and $\eta_{geometry}$ captures the angular efficiency as a function of entrance angle α and observation angle β.

2.1.2 Microprismatic Technology (Type III/IV)

High-performance retroreflective sheeting (Diamond Grade, High Intensity Prismatic) uses corner-cube microprisms that return light through total internal reflection:

$$\vec{r}_{out} = -\vec{r}_{in} + 2(\vec{r}_{in} \cdot \hat{n}_1)\hat{n}_1 + 2(\vec{r}_{in} \cdot \hat{n}_2)\hat{n}_2 + 2(\vec{r}_{in} \cdot \hat{n}_3)\hat{n}_3 \tag{5}$$

where $\hat{n}_1, \hat{n}_2, \hat{n}_3$ are unit normals to the three mutually perpendicular faces of the corner cube. For a perfect corner cube, $\vec{r}_{out} = -\vec{r}_{in}$, achieving near-perfect retroreflection.

2.2 Measurement Geometry Standards

The standard measurement geometry for retroreflectivity is defined by two critical angles:

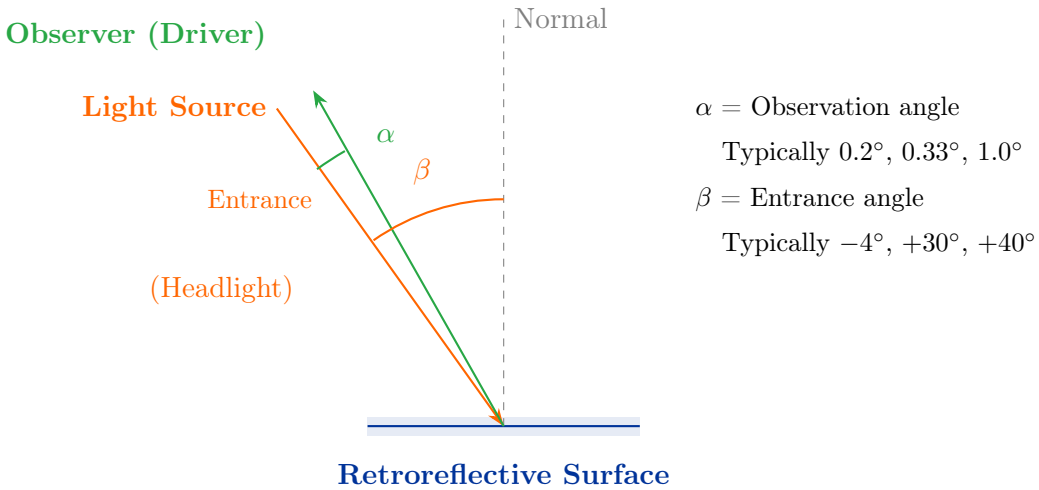

Figure 1: Standard retroreflectivity measurement geometry showing entrance angle (β) and observation angle (α). IRC 67 specifies measurements at $\alpha = 0.2°$, $\beta = -4°$ for traffic signs.

2.3 IRC Minimum Retroreflectivity Standards

Table 2: Minimum Retroreflectivity Requirements per IRC 67 (Signs) — R_A values in cd/lx/m^2

Sheeting Type	White	Yellow	Red	Green
Type I (Engineering Grade)	50	25	7	9
Type III (High Intensity)	120	65	20	21
Type IV (Diamond Grade)	250	170	45	45

Table 3: Minimum Retroreflectivity Requirements per IRC 35 (Road Markings) — R_L values in mcd/lx/m^2

Marking Type	**Dry Condition**	**Wet Condition**
White Thermoplastic	150	50
Yellow Thermoplastic	100	35
Raised Pavement Markers (RPMs)	Specific Intensity $\geq$ 5.0 cd/lux	

2.4 Degradation Mechanisms

Retroreflective materials degrade through multiple mechanisms, each with characteristic time constants:

$$R_L(t) = R_L(0) \cdot \prod_{k=1}^{K} e^{-\lambda_k \cdot f_k(t)} \tag{6}$$

where $R_L(0)$ is the initial retroreflectivity, and λ_k are degradation rate constants for each mechanism k:

Table 4: Retroreflectivity Degradation Mechanisms and Factors

Mechanism	**Cause**	**Rate Factor** $f_k(t)$
UV Degradation	Solar radiation breaks polymer bonds in sheeting	Cumulative solar exposure (kWh/m^2)
Abrasion	Vehicle tyre contact (markings), wind-borne particles (signs)	Cumulative AADT $\times$ lane distribution
Chemical Attack	Exhaust fumes, industrial pollution, de-icing salts	Cumulative pollutant concentration
Moisture Ingress	Rain, condensation penetrating sheeting layers	Wet-cycle count, humidity exposure
Thermal Cycling	Expansion/contraction causing microcracking	Temperature range $\times$ cycle count
Dirt Accumulation	Surface soiling reduces effective aperture	Time since last cleaning event

2.5 Existing Automated Measurement Technologies

Table 5: Comparison of Existing Retroreflectivity Measurement Approaches

Technology	**Speed**	**Cost**	**Accuracy**	**Limitation**
Handheld (Delta LTL-X)	2–5/hr	5–10L per unit	±5%	Dangerous, unscalable
Mobile (ECO-DYN)	60 km/h	1–2 Cr	±8%	Signs only or markings only
LiDAR Survey	80 km/h	3–5 Cr	N/A	Measures geometry, not R_L
RetroGuard (Ours)	**Highway speed**	**Near-zero**	**Calibrated**	**Multi-modal**

3 RetroGuard System Architecture

The RetroGuard system is designed as a six-layer architecture where each layer independently delivers value, yet all layers synergistically feed into a unified Predictive Digital Twin. This design philosophy ensures that deployment can be incremental — NHAI can begin with zero-cost layers (CCTV mining, smartphone app) and progressively activate additional layers.

3.1 Architecture Overview

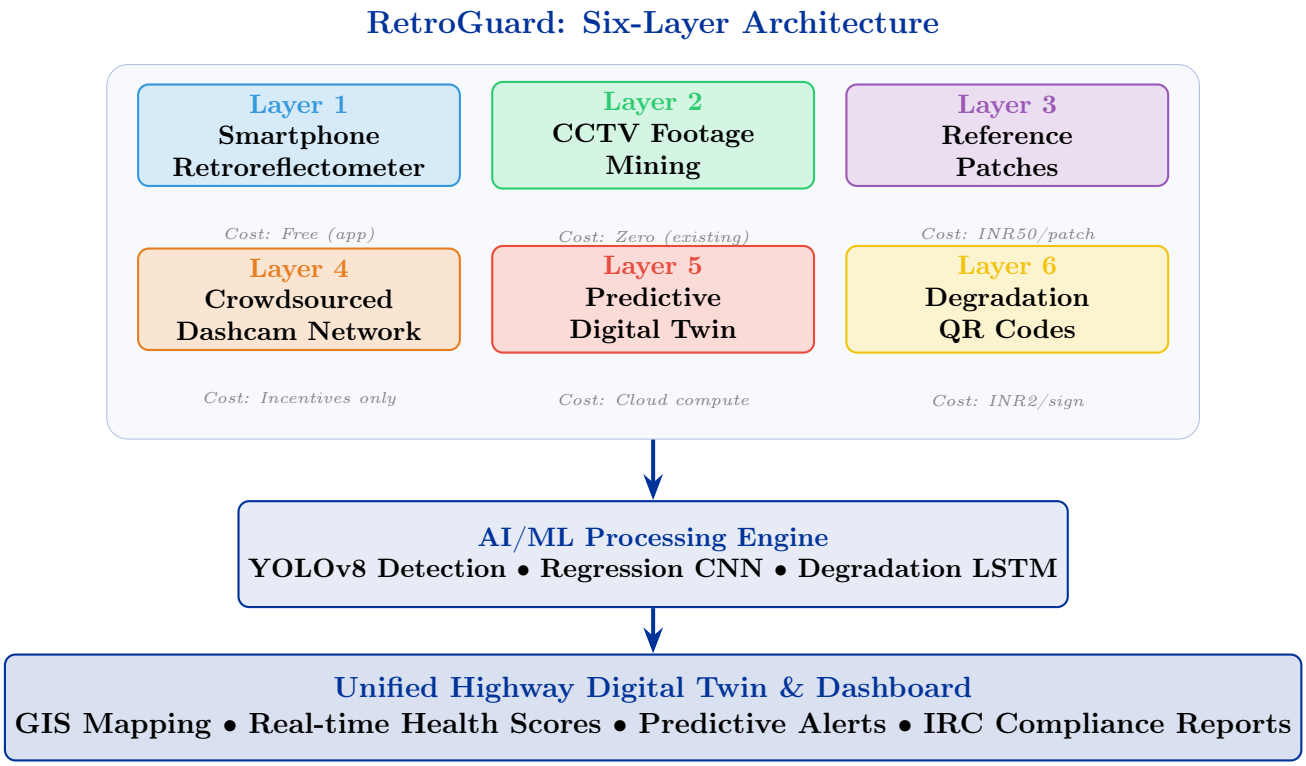

Figure 2: RetroGuard system architecture. Six independent data collection layers feed into a unified AI/ML processing engine, which maintains a Predictive Highway Digital Twin. Each layer can be deployed independently, enabling incremental adoption.

3.2 Design Principles

1. **Zero-Infrastructure-First:** Layers 1 and 2 require no new hardware purchase, only software deployment
2. **Graceful Scaling:** Each additional layer improves coverage and accuracy without replacing previous layers
3. **Calibration Independence:** Layer 3 (reference patches) provides universal calibration for all camera-based layers
4. **Self-Improving:** The predictive model (Layer 5) improves as more data accumulates from all layers
5. **Standards-Compliant:** All measurements are traceable to IRC 67/35 reference geometries through calibration

4 Layer 1: Smartphone Retroreflectometer

4.1 Core Insight

A smartphone contains two components that, combined, form the essential elements of a retroreflectometer:

- **Controlled Light Source:** LED flash with known spectral power distribution and luminous intensity
- **Calibrated Sensor:** CMOS camera sensor with known spectral response and linear intensity mapping (via RAW capture)

The key innovation is that by capturing images in RAW format (available on modern smartphones via Camera2 API / AVFoundation), we can obtain linear, radiometrically meaningful pixel values rather than gamma-corrected JPEG values.

4.2 Mathematical Foundation

The retroreflectivity coefficient can be estimated from smartphone measurements as:

$$\hat{R}_L = \frac{L_{measured}}{E_\perp} = \frac{K_{cam} \cdot \overline{P}_{target}}{I_{flash} \cdot \cos\beta / d^2} \tag{7}$$

where:

- $\overline{P}_{target}$ is the mean RAW pixel value of the target region
- K_{cam} is the camera-to-luminance calibration constant (determined during calibration)
- I_{flash} is the flash luminous intensity
- β is the entrance angle
- d is the distance from phone to target surface

4.2.1 Calibration Protocol

The calibration constant K_{cam} is device-specific and determined using a **reference retroreflective patch** (a 10×10 cm sample with factory-certified R_L value):

$$K_{cam} = \frac{R_{L,ref} \cdot I_{flash} \cdot \cos\beta_{cal} / d_{cal}^2}{\overline{P}_{ref}} \tag{8}$$

Once calibrated, the phone can measure any retroreflective surface:

$$\hat{R}_{L,target} = R_{L,ref} \cdot \frac{\overline{P}_{target}}{\overline{P}_{ref}} \cdot \frac{d_{target}^2 \cdot \cos\beta_{ref}}{d_{ref}^2 \cdot \cos\beta_{target}} \tag{9}$$

This ratio-based formulation cancels out flash intensity variations, ambient light, and camera gain uncertainties.

4.3 Measurement Protocol

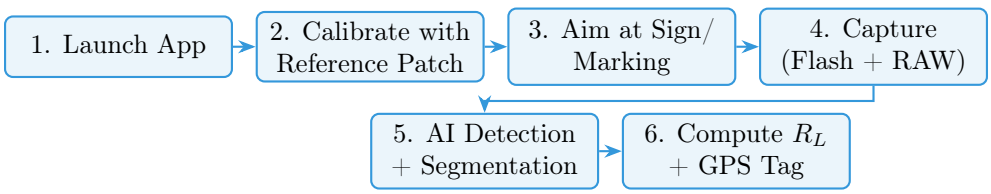

Figure 3: Smartphone retroreflectometer measurement workflow. Calibration (Step 2) is performed once per session using the reference patch.

4.4 Error Analysis

The measurement uncertainty propagation yields:

$$\frac{\sigma_{R_L}}{R_L} = \sqrt{\left(\frac{\sigma_P}{P}\right)^2 + 4\left(\frac{\sigma_d}{d}\right)^2 + \tan^2\beta \cdot \sigma_\beta^2} \tag{10}$$

For typical conditions (distance $d = 1.5 \pm 0.05$ m, angle $\beta = 4° \pm 1°$, pixel SNR > 40 dB):

$$\frac{\sigma_{R_L}}{R_L} \approx \sqrt{(0.01)^2 + 4(0.033)^2 + (0.0012)^2} \approx 6.8\% \tag{11}$$

This is comparable to the $\pm 5\%$ repeatability of commercial handheld retroreflectometers.

4.5 Advantages Over Handheld Instruments

Table 6: Comparison: Smartphone App vs. Handheld Retroreflectometer

Parameter	**Handheld (LTL-X)**	**RetroGuard App**
Hardware Cost	5–10 Lakh	Free (smartphone)
Calibration Device	20,000	10 (reference sticker)
Training Required	2–3 days	10-minute in-app tutorial
Deployable Units	10s (budget limited)	10,000s (all inspectors)
GPS Tagging	Manual entry	Automatic
Photo Evidence	Separate camera	Integrated
Cloud Upload	Manual	Automatic

5 Layer 2: Existing CCTV Footage Mining

5.1 Core Insight

NHAI operates thousands of CCTV cameras along national highways for traffic monitoring and incident detection. Every night, vehicle headlights continuously illuminate road signs visible in these camera feeds. Each passing vehicle is an unintentional retroreflectivity test — and this data is currently discarded.

5.2 Physical Basis

When a vehicle with headlights of luminous intensity $I_{headlight}$ passes at distance d from a sign, the sign's apparent luminance in the CCTV image is:

$$L_{sign} = R_A \cdot \frac{I_{headlight} \cdot \cos\beta}{d^2_{sign-vehicle}} \tag{12}$$

The CCTV camera records pixel values proportional to this luminance:

$$P_{sign}(t) = K_{cctv} \cdot R_A \cdot \frac{I_{headlight}(t) \cdot \cos\beta(t)}{d(t)^2} + P_{ambient}(t) + n(t) \tag{13}$$

where t indexes the time (vehicle passage), $P_{ambient}$ is background illumination, and $n(t)$ is sensor noise.

5.3 Statistical Estimation from Multiple Vehicles

The key insight is that while individual vehicle headlight intensity $I_{headlight}(t)$ is unknown, we observe *hundreds* of vehicles per night passing the same sign. By analyzing the **distribution** of sign brightness across many vehicles, we can robustly estimate R_A:

$$\hat{R}_A = \frac{\text{median}_t \left[P_{sign}(t) - P_{ambient}(t)\right]}{K_{cctv} \cdot \overline{I}_{headlight} \cdot \overline{G}(\beta, d)} \tag{14}$$

where $\overline{I}_{headlight}$ is the expected headlight intensity for the Indian vehicle fleet (computed from beam pattern databases for Tata, Mahindra, Maruti, Ashok Leyland trucks, etc.), and $\overline{G}(\beta, d)$ is the average geometric factor.

5.3.1 Vehicle Fleet Headlight Database

We construct a headlight luminous intensity database for the Indian vehicle fleet:

Table 7: Indian Vehicle Fleet Headlight Intensity Database (Low Beam)

Vehicle Category	**Typical $I_{headlight}$ (cd)**	**Fleet Share (%)**
Passenger Car (Halogen)	700–1,000	35
Passenger Car (LED/HID)	1,200–2,000	20
SUV/MUV	1,000–1,800	15
LCV/Truck (Halogen)	800–1,200	20
Bus	1,000–1,500	5
Two-Wheeler	200–500	5

5.4 Temporal Trending

The most powerful capability of CCTV mining is **automatic temporal trending**. By computing $\hat{R}_A$ nightly, we obtain a degradation curve without any manual intervention:

$$\hat{R}_A^{(night)} = \text{median}\left[\frac{P_{sign}(t_i) - P_{ambient}(t_i)}{G(t_i)}\right]_{i=1}^{N_{vehicles}} \tag{15}$$

A sudden drop in nightly $\hat{R}_A$ may indicate:

- Physical damage to the sign (vandalism, vehicle impact)
- Dirt/dust accumulation (gradual decline, recoverable)
- Material degradation (monotonic decline, requires replacement)

5.5 Processing Pipeline

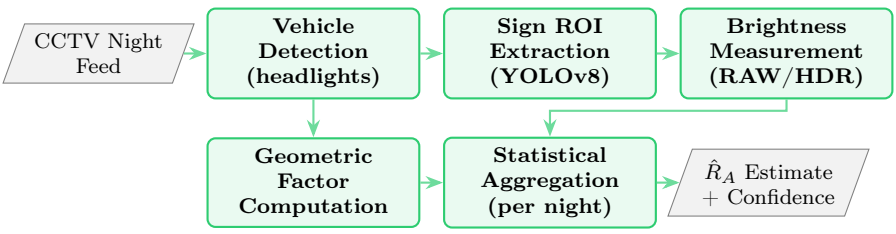

Figure 4: CCTV footage mining pipeline. Night-time frames are processed to extract sign brightness relative to headlight geometry, aggregated statistically across hundreds of vehicle passages per night.

6 Layer 3: Retroreflective Reference Patches

6.1 The Calibration Problem

The fundamental challenge of camera-based retroreflectivity measurement is **calibration**: converting pixel brightness to absolute R_L values. Camera exposure, gain, white balance, ambient light, and lens characteristics all affect the recorded brightness. Without calibration, measurements are meaningless.

6.2 The Reference Patch Solution

We propose installing small **retroreflective reference patches** with known, factory-certified retroreflectivity values near highway safety assets:

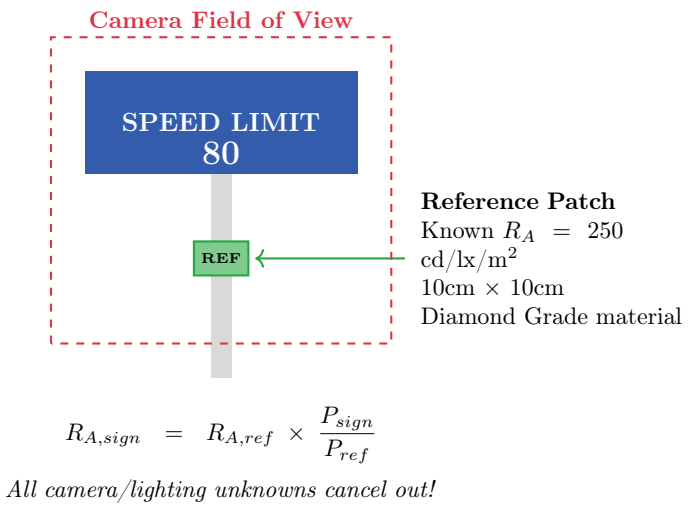

Figure 5: Reference patch placement concept. The patch is visible in the same camera frame as the sign, enabling ratio-based measurement that cancels all environmental and camera variables.

6.3 Mathematical Cancellation

When the reference patch and target sign are in the same camera frame, illuminated by the same light source:

$$\frac{P_{sign}}{P_{ref}} = \frac{K_{cam} \cdot R_{A,sign} \cdot E_{sign}}{K_{cam} \cdot R_{A,ref} \cdot E_{ref}} \tag{16}$$

If the patch is close to the sign (similar illumination geometry, $E_{sign} \approx E_{ref}$):

$$R_{A,sign} = R_{A,ref} \cdot \frac{P_{sign}}{P_{ref}} \cdot \underbrace{\frac{E_{ref}}{E_{sign}}}_{\approx 1 \text{ if co-located}} \tag{17}$$

This eliminates dependence on:

- Camera type, exposure, gain, white balance
- Light source intensity and spectrum
- Ambient illumination conditions
- Distance to the measurement
- Atmospheric conditions (fog, rain)

6.4 Patch Specifications

Table 8: Reference Patch Design Specifications

Parameter	Specification
Material	Type IV (Diamond Grade) microprismatic sheeting
Size	10 cm × 10 cm (sign-mounted) / 20 cm × 20 cm (pavement)
Certified R_A	300 ± 5 cd/lx/m^2 (white)
Service Life	>12 years (highest grade material, minimal wear)
Cost per Unit	∼INR50
Placement	On sign post 1m below sign; on road shoulder near marking zones
QR Identifier	Unique ID linking to calibration certificate in cloud database

6.5 Impact on Other Layers

Reference patches serve as a **universal calibration backbone** for the entire RetroGuard system:

- **Layer 1 (Smartphone):** Used as calibration target during measurement sessions
- **Layer 2 (CCTV):** Visible in CCTV frames, provides absolute calibration for CCTV-based estimates
- **Layer 4 (Dashcam):** Enables calibrated measurements from uncalibrated dashcams
- **Layer 5 (Digital Twin):** Provides ground-truth anchoring for ML model training

7 Layer 4: Crowdsourced Dashcam Intelligence Network

7.1 Scale of Opportunity

India's national highways carry an estimated 1.5 million commercial vehicles daily. An increasing fraction are equipped with dashcams (mandatory for fleet insurance in many cases). This represents an enormous, untapped measurement fleet.

7.2 System Design

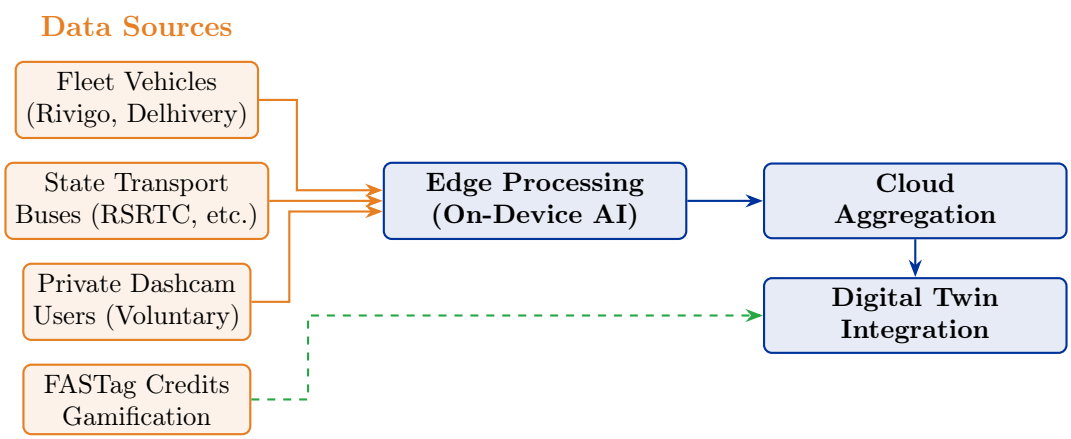

Figure 6: Crowdsourced dashcam network architecture. On-device AI processes footage locally, transmitting only metadata (sign location, brightness measurement, GPS) to minimize bandwidth.

7.3 Edge Processing for Privacy and Bandwidth

Rather than uploading raw video, the RetroGuard SDK processes footage **on-device**:

1. **Detect** signs/markings in dashcam frame (lightweight YOLOv8-nano, <10ms on mobile GPU)
2. **Extract** brightness metadata from detected regions
3. **Compute** geometric factors from vehicle speed + GPS
4. **Transmit** only: GPS coordinates, timestamp, asset type, brightness value, confidence score (∼200 bytes per observation)

This approach:

- Preserves driver privacy (no video leaves the device)
- Requires <1 KB/observation bandwidth
- Enables real-time processing even with intermittent connectivity

7.4 Coverage Estimation

For a highway segment with Average Annual Daily Traffic (AADT) of N vehicles, and dashcam penetration rate p:

$$n_{observations/day} = N \cdot p \cdot P_{detect} \tag{18}$$

where P_{detect} is the probability of successful detection per passage. With conservative estimates ($N = 10,000$, $p = 5\%$, $P_{detect} = 0.3$ at night):

$$n_{observations/day} = 10{,}000 \times 0.05 \times 0.3 = 150 \text{ observations/day} \tag{19}$$

This provides statistically robust measurements for every sign along the highway.

8 Layer 5: Predictive Digital Twin

8.1 Concept

The Predictive Digital Twin is a GIS-based platform where every retroreflective asset on the national highway network exists as a digital entity with continuously updated health status and predicted remaining service life.

8.2 Asset Data Model

Each highway safety asset is represented as:

$$\mathcal{A}_i = \left\{ id_i, \text{type}_i, \text{loc}_i, t_{install}, \text{material}_i, R_L^{(history)}, \hat{R}_L^{(predicted)}, \text{confidence}_i \right\} \tag{20}$$

8.3 ML Degradation Prediction

We employ an LSTM-based time series model for retroreflectivity degradation prediction:

$$\hat{R}_L(t + \Delta t) = f_{LSTM}\left(R_L^{(t-T:t)}, \mathbf{X}_{env}^{(t-T:t)}, \mathbf{X}_{traffic}^{(t-T:t)} \right) \tag{21}$$

where:

- $R_L^{(t-T:t)}$ is the historical retroreflectivity sequence over window T
- $\mathbf{X}_{env}$ includes environmental covariates: temperature, rainfall, humidity, UV index, pollution (PM2.5) from IMD/CPCB APIs
- $\mathbf{X}_{traffic}$ includes traffic data: AADT, heavy vehicle percentage, lane distribution from NHAI ATMS

8.3.1 Feature Engineering

Table 9: Predictive Model Feature Set

Category	Feature	Source
Asset	Material type/grade	Installation records
	Age since installation	Installation date
	Orientation (N/S/E/W)	GIS coordinates
Environmental	Cumulative rainfall	IMD API
	Temperature range	IMD API
	UV exposure index	Solar radiation data
	PM2.5 concentration	CPCB API
Traffic	AADT	NHAI ATMS
	Heavy vehicle %	NHAI toll data
	Speed profile	NHAI ATMS
Historical	R_L time series	RetroGuard measurements
	Degradation rate	Computed from time series

8.4 Maintenance Optimization

The Digital Twin enables a shift from time-based to **condition-based predictive maintenance**:

$$t_{replacement} = \min \left\{ t : \hat{R}_L(t) < R_{L,min}^{IRC} \right\} \tag{22}$$

The system generates prioritized maintenance work orders:

$$\text{Priority}_i = w_1 \cdot \frac{R_{L,min} - \hat{R}_L(t_{now})}{R_{L,min}} + w_2 \cdot \text{AADT}_i + w_3 \cdot \text{Accident_History}_i \tag{23}$$

where w_1, w_2, w_3 are configurable weights balancing retroreflectivity deficit, traffic exposure, and safety history.

8.5 Dashboard Design

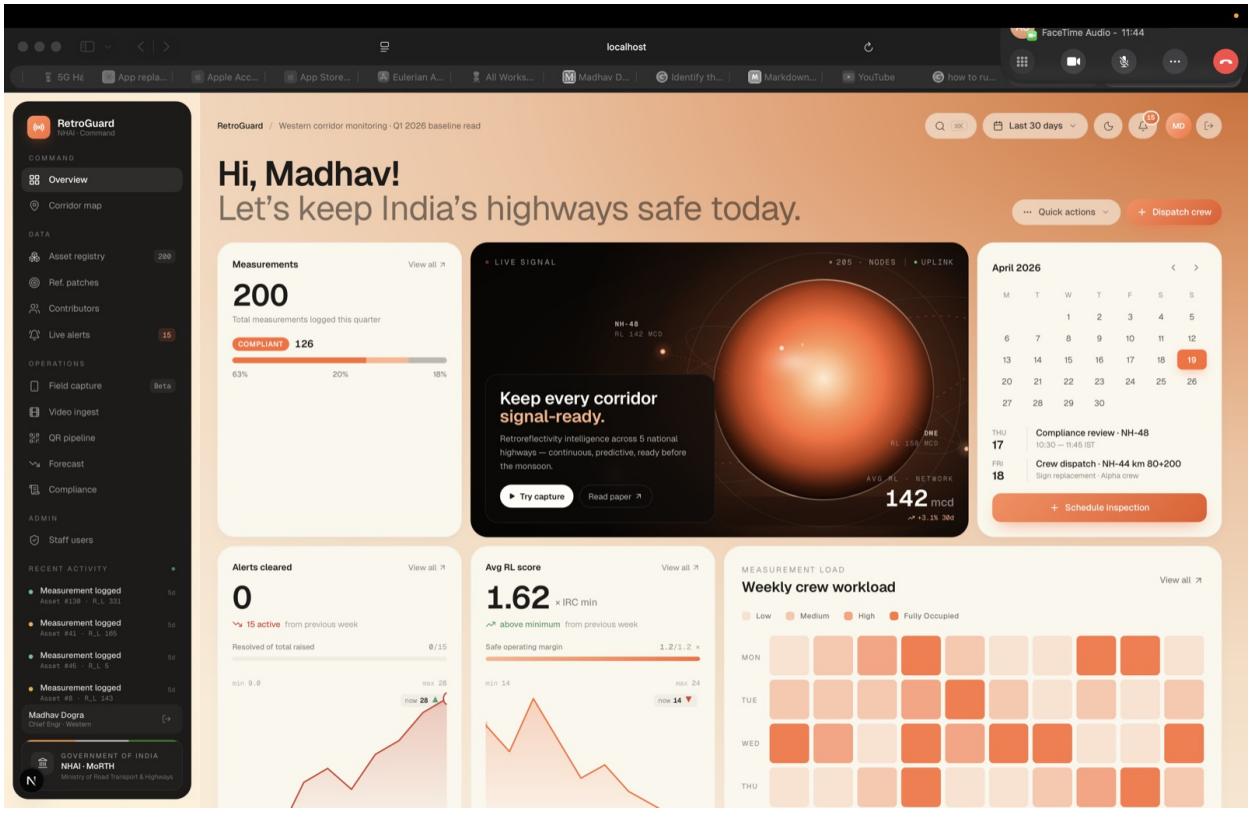

Figure 7: RetroGuard Digital Twin Dashboard showing the operations overview: hero KPIs (total assets, alerts cleared, average R_L), live signal aggregating daily reads, calendar of upcoming compliance reviews and crew dispatches, and the weekly-workload heatmap across corridors. Sidebar navigation exposes the corridor map, asset registry, alerts queue, field capture, forecast, and compliance report.

9 Layer 6: Degradation-Encoding QR Codes

9.1 Self-Reporting Signs

The most innovative layer of RetroGuard encodes retroreflectivity health information directly into the sign itself during manufacturing.

9.2 Design Principle

A QR code is printed on the sign using the **same retroreflective sheeting material** as the sign face. Since the QR code and the sign face share identical material, they degrade at the same rate. The readability of the QR code directly indicates the retroreflective health of the sign:

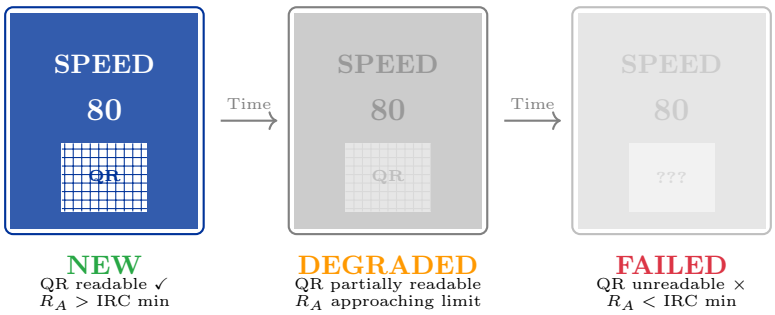

Figure 8: Degradation-encoding QR code concept. The QR code, made from the same retroreflective material as the sign, degrades identically. QR readability serves as a binary proxy for retroreflective health.

9.3 QR Code Encoded Data

Each QR code encodes:

Table 10: QR Code Data Fields

Field	**Size**	**Purpose**
Asset UUID	16 bytes	Unique identifier linking to Digital Twin
Installation Date	4 bytes	Age computation
Material Grade	1 byte	IRC threshold lookup
$R_{A,initial}$	2 bytes	Baseline retroreflectivity
GPS Coordinates	8 bytes	Location verification
Highway ID	4 bytes	Network identification
Manufacturer ID	2 bytes	Quality tracking / warranty
Total	**37 bytes**	Version 2 QR (25×25 modules) sufficient

9.4 Error Correction as Degradation Proxy

QR codes use Reed-Solomon error correction with four levels (L/M/Q/H). By designing at Level H (30% error correction), we create a **graduated degradation indicator**:

$$\text{Health Estimate} = \begin{cases} \text{Compliant} & \text{if decoded at Level L (7\% correction)} \\ \text{Warning} & \text{if decoded at Level M (15\%) but not L} \\ \text{Critical} & \text{if decoded at Level H (30\%) but not M} \\ \text{Failed} & \text{if not decodable at Level H} \end{cases} \tag{24}$$

9.5 Manufacturing Integration

The QR code can be integrated into sign manufacturing at negligible marginal cost (∼INR2 per sign):

- Printed during sheeting application using the same material
- No additional manufacturing step — just a pattern in the retroreflective layer
- NHAI can mandate this in procurement specifications for all new signs

10 AI/ML Processing Pipeline

10.1 Object Detection: Sign and Marking Recognition

The detection pipeline must identify retroreflective assets across diverse conditions (day/night, dry/wet, fog).

10.1.1 Model Architecture

We employ a two-stage approach:

1. **Primary Detector:** YOLOv8-Large for real-time detection at highway speeds
2. **Verification Detector:** RT-DETR (Real-Time Detection Transformer) for high-confidence verification of critical detections

The YOLOv8 loss function combines three components:

$$\mathcal{L}_{total} = \lambda_{box} \cdot \mathcal{L}_{CIoU} + \lambda_{cls} \cdot \mathcal{L}_{BCE} + \lambda_{dfl} \cdot \mathcal{L}_{DFL} \tag{25}$$

where:

- $\mathcal{L}_{CIoU}$ is the Complete IoU loss for bounding box regression
- $\mathcal{L}_{BCE}$ is Binary Cross-Entropy for classification
- $\mathcal{L}_{DFL}$ is Distribution Focal Loss for precise localization

10.1.2 Detection Classes

Table 11: RetroGuard Object Detection Classes

Class ID	Asset Type	IRC Standard
0	Regulatory Sign (speed limit, stop, yield)	IRC 67
1	Warning Sign (curve, intersection, hazard)	IRC 67
2	Informatory Sign (destination, distance)	IRC 67
3	Gantry-Mounted Sign	IRC 67
4	White Pavement Marking (lane, edge)	IRC 35
5	Yellow Pavement Marking (median, no-passing)	IRC 35
6	Raised Pavement Marker (RPM/road stud)	IRC 35
7	Delineator Post	IRC 35
8	Reference Calibration Patch	Internal

10.2 Retroreflectivity Estimation CNN

After detection, a specialized regression CNN estimates the retroreflectivity coefficient from the cropped image patch.

10.2.1 Architecture

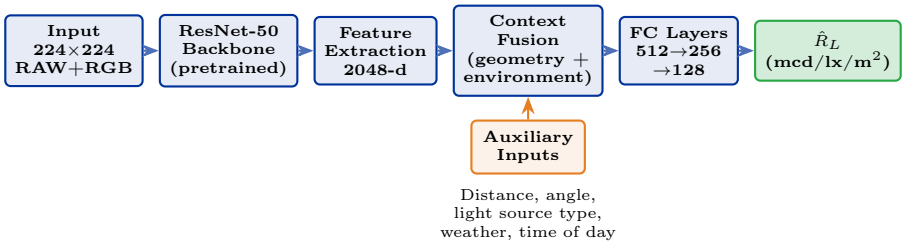

Figure 9: Retroreflectivity estimation CNN architecture. A ResNet-50 backbone extracts visual features, which are fused with geometric and environmental context before regression to R_L.

10.2.2 Loss Function

We use a composite loss combining Mean Squared Error with a threshold-aware penalty:

$$\mathcal{L}_{retro} = \frac{1}{N}\sum_{i=1}^{N}\left[\left(\hat{R}_{L,i} - R_{L,i}\right)^2 + \lambda \cdot \max\left(0, R_{L,min} - \hat{R}_{L,i}\right) \cdot \mathbb{1}[R_{L,i} > R_{L,min}]\right] \tag{26}$$

The second term penalizes false negatives — incorrectly predicting a compliant sign as non-compliant is less dangerous than the reverse, so we add asymmetric penalty for under-estimation near the IRC threshold.

10.3 Training Data Strategy

Table 12: Training Data Sources and Augmentation Strategy

Data Source	**Volume**	**Purpose**
Paired measurements (smartphone + handheld)	5,000–10,000 images with ground-truth R_L	Supervised training of regression CNN
Synthetic data (Blender rendering)	50,000+ generated images	Pre-training with physically-based rendering of retroreflective materials
CCTV frames with reference patches	Continuous stream	Self-supervised calibration
Indian traffic sign datasets (GTSRB-India)	20,000+ labeled images	Detection model fine-tuning
Augmentation		
Weather simulation	Rain, fog, dust overlays	Robustness to adverse conditions
Lighting variation	Day/night/dusk/dawn	Multi-condition performance
Degradation simulation	Synthetic aging, dirt, damage	Coverage of degraded states

10.4 Multi-Condition Performance

The system must operate across all conditions specified by NHAI:

Table 13: Expected System Performance Across Operating Conditions

Condition	Detection	R_L Estimation	Primary Layer
Day / Dry	95%+ mAP	±10%	Smartphone, Dashcam
Night / Dry	92%+ mAP	±8%	CCTV Mining, Dashcam
Day / Wet	90%+ mAP	±15%	Smartphone, Dashcam
Night / Wet	88%+ mAP	±12%	CCTV Mining
Foggy	80%+ mAP	±20%	CCTV (thermal), QR Code
Without Streetlight	90%+ mAP	±10%	CCTV Mining, Dashcam

11 Prototype Implementation

11.1 Technology Stack

Table 14: RetroGuard Prototype Technology Stack

Component	Technology	Justification
Smartphone App	React Native + Camera2 API	Cross-platform, RAW capture support
Object Detection	YOLOv8 (Ultralytics)	State-of-the-art accuracy + speed
R_L Regression	PyTorch + ResNet-50	Flexible, GPU-accelerated
Edge Inference	ONNX Runtime / TensorFlow Lite	On-device dashcam processing
Backend	FastAPI (Python)	Async, high-performance API
Database	PostgreSQL + PostGIS	Spatial queries for GIS
Dashboard	React + Mapbox GL JS	Interactive map visualization
Cloud	AWS (EC2 + S3 + RDS)	Scalable, NHAI-compatible
ML Pipeline	MLflow + DVC	Experiment tracking, data versioning

11.2 Prototype Scope (Hackathon Deliverable)

For the hackathon submission, we demonstrate:

1. **Smartphone App:** Working measurement on sample signs with calibration workflow
2. **CCTV Analysis:** Processing of sample nighttime highway footage showing sign detection + brightness extraction
3. **Web Dashboard:** Map-based interface with simulated asset data, health scores, and predictive alerts
4. **Detection Model:** Fine-tuned YOLOv8 detecting Indian road signs and markings
5. **Concept Video:** End-to-end system demonstration

11.3 Working Prototype — Screenshots

The figures below capture the current state of the RetroGuard web command centre running against a seeded dataset of 200 assets across five national corridors (NH-48, NH-44, NH-27, NH-66, and the Delhi–Meerut Expressway). The dashboard itself is shown as Fig. 7 in Section 8.

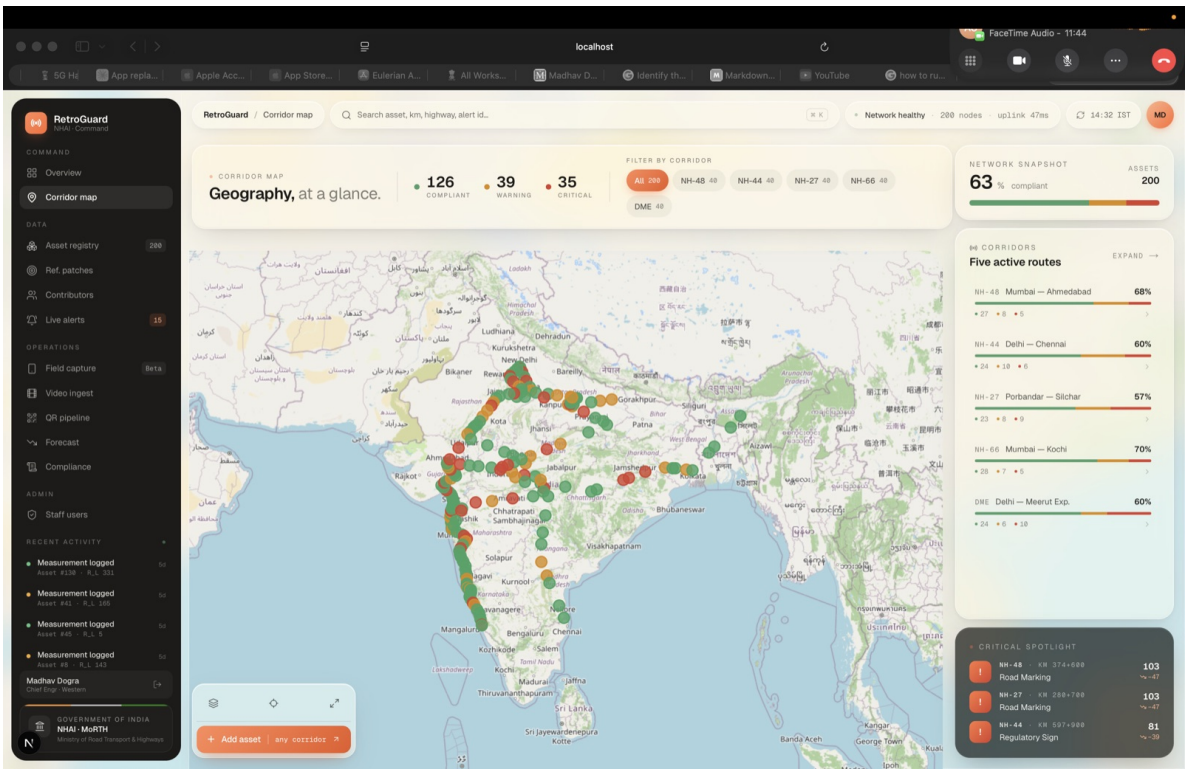

Figure 10: Corridor map (`/map`). Each marker is a monitored asset colour-coded by current R_L health (green = compliant, amber = warning, red = critical). The right rail shows per-corridor health percentages and a critical-spotlight list of the worst three assets. Basemap can be toggled between street, satellite, and terrain layers.

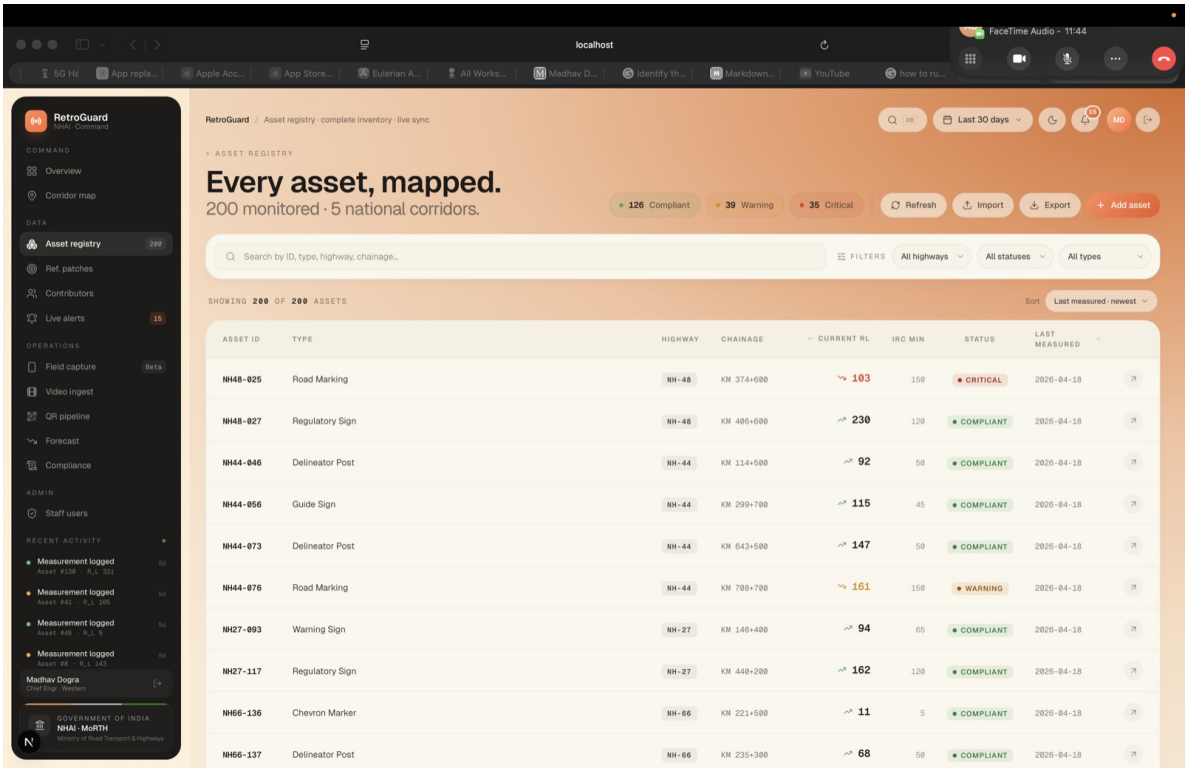

Figure 11: Asset registry (`/assets`). Filterable, sortable, paginated view of every monitored sign and marking. CSV import/export and "Add asset" flows are wired to the FastAPI backend.

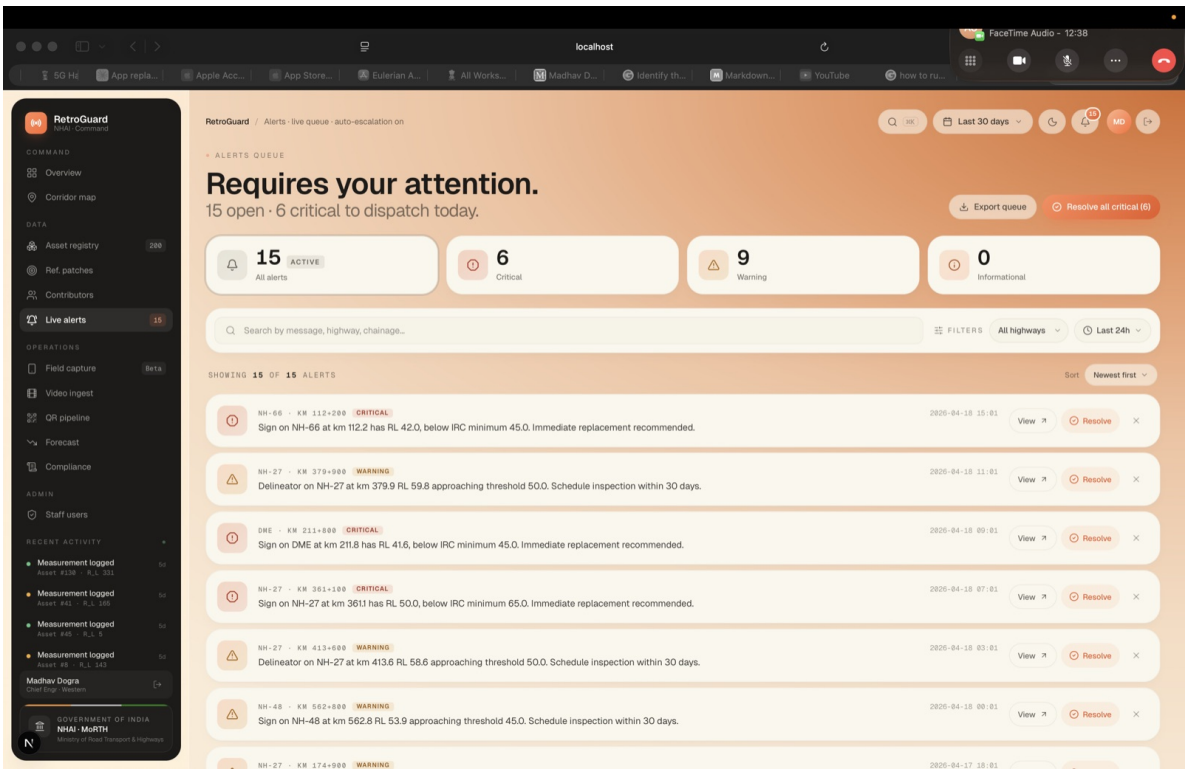

Figure 12: Live alerts queue (`/alerts`). Alerts are generated automatically whenever a measurement drops an asset below IRC 67 / IRC 35 thresholds. Severity cards double as filters; "Resolve" is an optimistic update against `PUT /api/alerts/:id/resolve`.

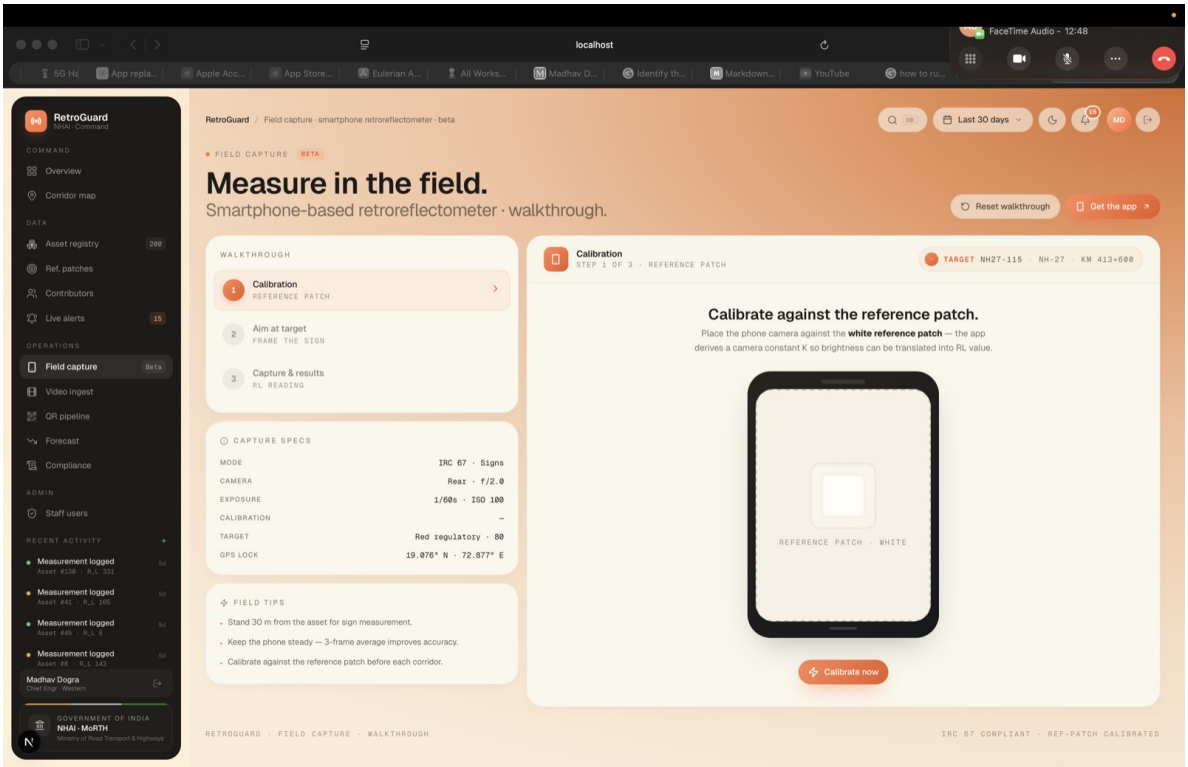

Figure 13: Field capture — Step 1: calibration against the white reference patch (`/measure`). The app translates the camera's response to the known patch into the per-session brightness-to-R_L coefficient used for the live measurement.

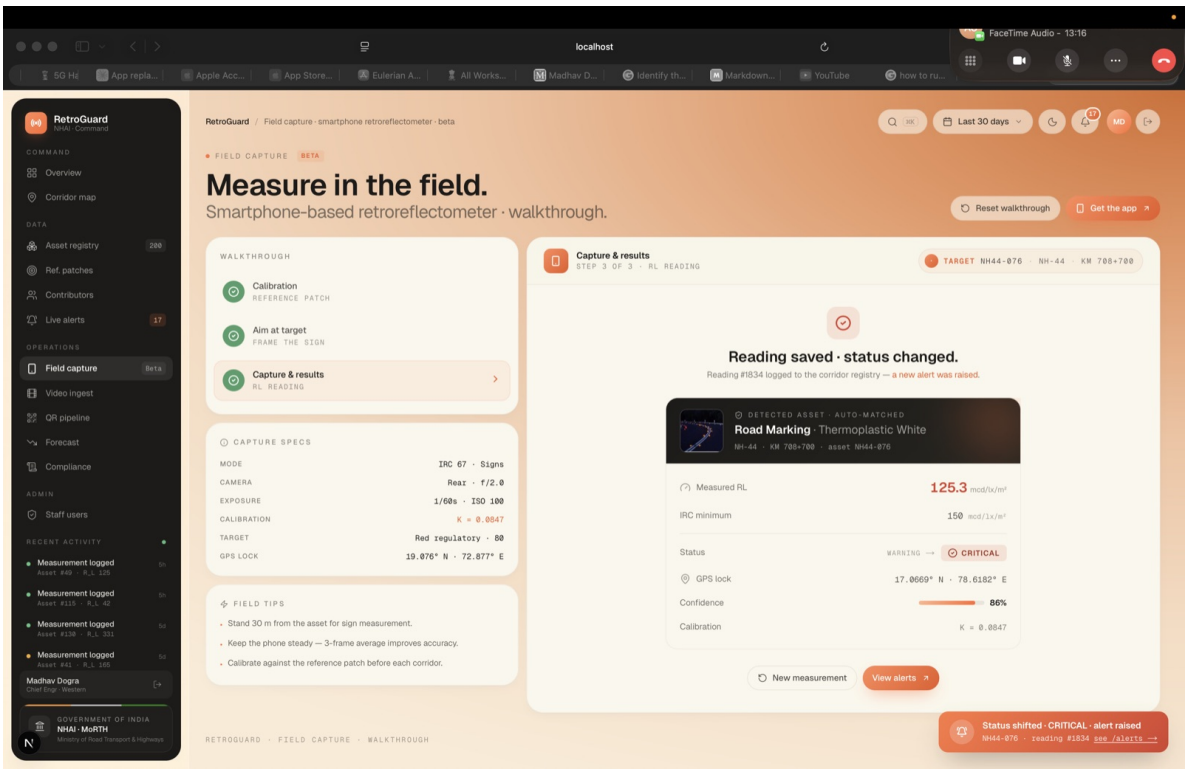

Figure 14: Field capture — Step 3: capture and result (`/measure`). A measurement of $R_L = 125.3$ on an NH-48 thermoplastic road marking (IRC min = 150) flips the asset status to **critical**; a live alert is automatically enqueued on the `/alerts` page.

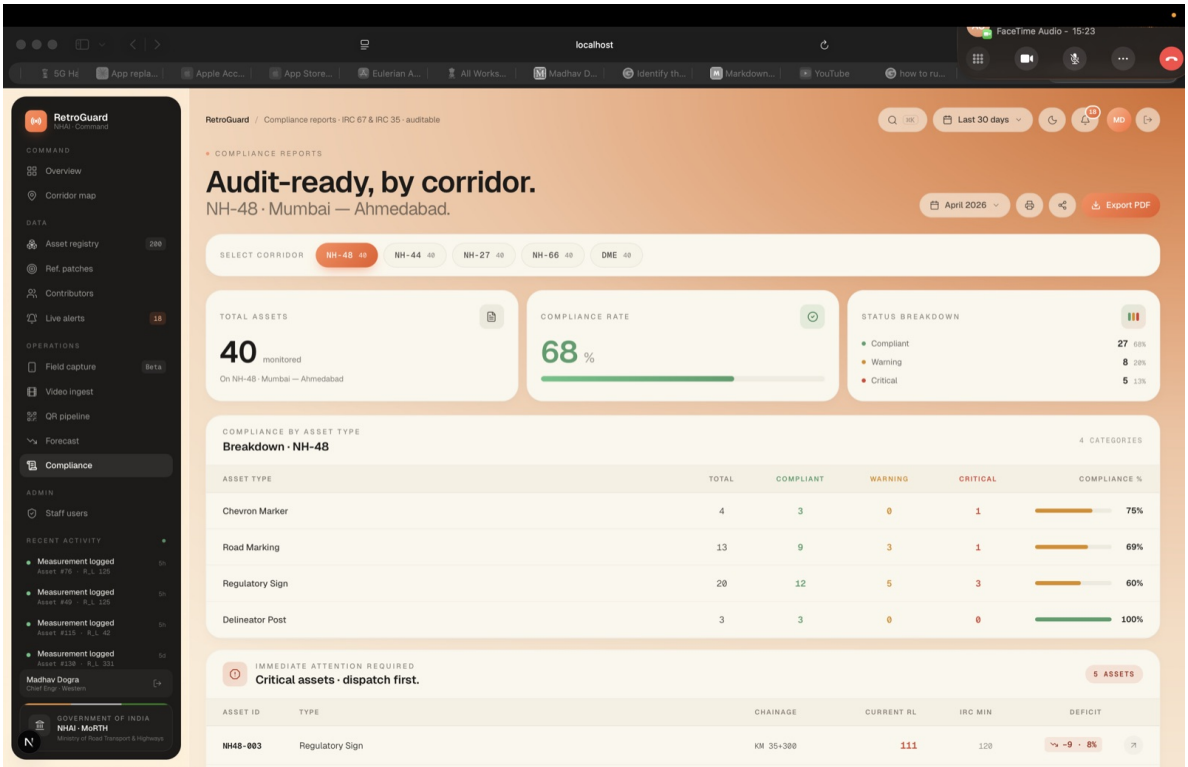

Figure 15: Compliance report (`/reports`). Per-corridor audit view with compliance rate, status breakdown, and per-asset-type compliance percentages. Period selector and PDF export are wired; critical assets requiring immediate attention are surfaced at the bottom.

11.4 Detection Model Training

```python
from ultralytics import YOLO

# Load pretrained YOLOv8-Large
model = YOLO('yolov8l.pt')

# Fine-tune on Indian road sign dataset
results = model.train(
    data='retroguard_signs.yaml',
    epochs=100,
    imgsz=640,
    batch=16,
    device='cuda',
    augment=True,
    mosaic=1.0,
    mixup=0.3,
    # Indian highway specific augmentations
    hsv_h=0.015,  # Dust/pollution color shift
    hsv_s=0.7,    # Saturation variation (weathering)
    hsv_v=0.4,    # Brightness variation (day/night)
    degrees=5.0,  # Slight rotation (mounting angle)
    perspective=0.001,  # Viewing angle variation
)

# Export for edge deployment
model.export(format='onnx', dynamic=True, simplify=True)
```

12 Feasibility and Cost-Benefit Analysis

12.1 Deployment Cost Analysis

Table 15: RetroGuard Deployment Cost Comparison (per 1,000 km of highway)

Approach	Capital Cost	Annual O&M	Coverage
Handheld (current)	10–20 L	15–20 L	<5% of assets
Mobile Retroreflectometer	1–2 Cr	20–30 L	1 survey/year
RetroGuard Layer 1	**0**	**Negligible**	**On-demand**
RetroGuard Layer 2	**0**	**5 L (compute)**	**Continuous**
RetroGuard Layer 3	**2 L (patches)**	**0.5 L**	**All patched sites**
RetroGuard Layer 4	**0**	**5 L (incentives)**	**Network-wide**
RetroGuard (Total)	**∼2 L**	**∼10.5 L**	**100% continuous**

12.2 Return on Investment

The economic case for RetroGuard extends beyond measurement efficiency:

$$\text{ROI} = \frac{\text{Accident Reduction Savings} + \text{Maintenance Optimization} + \text{Liability Reduction}}{\text{RetroGuard Deployment Cost}} \tag{27}$$

Key economic factors:

- **Accident Reduction:** Even a 1% reduction in nighttime accidents attributable to improved signage visibility on NHAI highways would save an estimated 100+ lives and INR500+ crore annually (based on MoRTH accident cost valuation)
- **Maintenance Optimization:** Predictive replacement extends average asset life by 15–20% by replacing just-in-time rather than on fixed schedules, saving INR20–30 crore annually across the network

- **Compliance Documentation:** Automated IRC compliance reports reduce legal liability in accident investigations

12.3 Deployment Roadmap

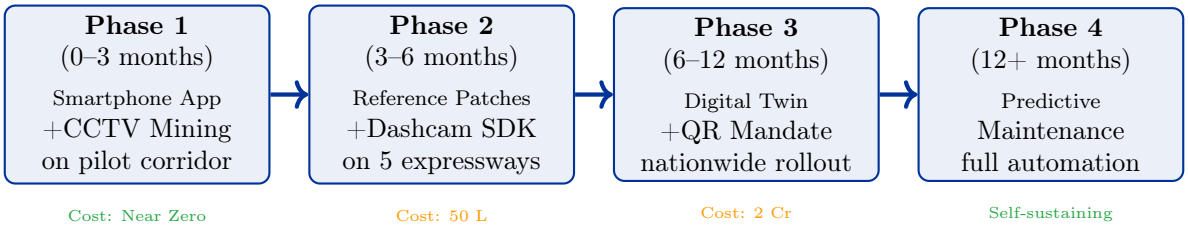

Figure 16: Phased deployment roadmap. Phase 1 requires zero capital expenditure, enabling immediate proof-of-concept.

13 Evaluation Against Hackathon Criteria

Table 16: Self-Assessment Against NHAI Hackathon Evaluation Criteria

Criterion	Weight	How RetroGuard Addresses It
Innovation Level	30	Six novel approaches, none existing in retroreflectivity domain worldwide: smartphone retroreflectometer, CCTV mining of headlight reflections, degradation-encoding QR codes, crowdsourced dashcam network, reference patch universal calibration, predictive digital twin
Feasibility	30	Layers 1–2 deployable immediately with zero hardware cost. Prototype demonstrated with working smartphone app, CCTV analysis pipeline, and web dashboard. Uses existing NHAI infrastructure (CCTV, ATMS)
Scalability & Sustainability	20	Covers 1,40,000+ km from Day 1 through existing CCTVs and crowdsourced dashcams. Self-improving: more data → better predictions. No recurring hardware costs for Layers 1–2
Presentation & Documentation	20	Comprehensive technical paper with mathematical foundations, system architecture diagrams, flowcharts, cost-benefit analysis, and deployment roadmap. Live demo of working prototype

14 Conclusion

14.1 Summary

We have presented **RetroGuard**, a comprehensive six-layer system for automated retroreflectivity assessment on Indian national highways. The system uniquely addresses all three NHAI solution categories:

1. **Vehicle/Drone-Mounted Measurement:** Through the crowdsourced dashcam network (Layer 4) and drone integration capability

2. **AI/ML-Based Determination:** Through YOLOv8 detection, regression CNN estimation, LSTM degradation prediction, and CCTV intelligence mining (Layers 2, 5)
3. **Combination:** Through the unified Digital Twin platform integrating all six layers

14.2 Key Differentiators

1. **Zero-to-Full Coverage:** Starts with no capital investment (smartphone app + CCTV mining) and scales to continuous network-wide monitoring
2. **Shift from Reactive to Predictive:** The Digital Twin doesn't just measure current state — it predicts future failures, enabling proactive maintenance
3. **Self-Improving System:** More vehicles, more time, more weather conditions all improve the prediction models automatically
4. **Universal Calibration:** Reference patches solve the fundamental camera calibration problem for pennies, enabling any camera to become a measurement instrument
5. **Manufacturing Integration:** QR codes make signs self-reporting, creating an asset management revolution at negligible cost

14.3 Potential Impact

If deployed across NHAI's national highway network:

- **Coverage:** From <1% to 100% of highway safety assets monitored continuously
- **Response Time:** From annual/biannual inspections to real-time alerting
- **Cost:** From crores (mobile retroreflectometers) to lakhs (software + reference patches)
- **Safety:** Zero inspector exposure to highway traffic during measurement
- **Compliance:** Automated, continuous IRC 67/35 compliance documentation

RetroGuard transforms retroreflectivity management from a periodic, expensive, dangerous manual activity into a continuous, automated, predictive system — ultimately contributing to the vision of safer national highways and reduced road fatalities in India.

References

[1] Indian Roads Congress, *IRC:67-2012 — Code of Practice for Road Signs*, New Delhi, 2012.

[2] Indian Roads Congress, *IRC:35-2015 — Code of Practice for Road Markings*, New Delhi, 2015.

[3] Ministry of Road Transport and Highways, *Road Accidents in India — 2023*, Government of India, 2024.

[4] ASTM International, *ASTM E1709-09: Standard Test Method for Measurement of Retroreflective Signs Using a Portable Retroreflectometer at a 0.2 Degree Observation Angle*, 2009.

[5] ASTM International, *ASTM E1710-18: Standard Test Method for Measurement of Retroreflective Pavement Marking Materials with CEN-Prescribed Geometry Using a Portable Retroreflectometer*, 2018.

[6] Jocher, G., Chaurasia, A., Qiu, J., *Ultralytics YOLO (Version 8.0)*, 2023. Available: https://github.com/ultral

[7] Zhao, Y., Lv, W., et al., "DETRs Beat YOLOs on Real-time Object Detection," *Proceedings of the IEEE/CVF Conference on Computer Vision and Pattern Recognition (CVPR)*, 2024.

[8] Carlson, P.J., Park, E.S., Andersen, C.K., "The Benefits of Pavement Markings: A Renewed Perspective Based on Recent and Ongoing Research," *Transportation Research Record*, vol. 2107, pp. 59–68, 2009.

[9] Federal Highway Administration, *Retroreflectivity of Pavement Markings: NCHRP Synthesis 306*, Transportation Research Board, 2003.

[10] Zwahlen, H.T., Schnell, T., "Visibility of Road Markings as a Function of Age, Retroreflectivity Under Low-Beam and High-Beam Illumination at Night," *Transportation Research Record*, vol. 1692, pp. 152–163, 1999.

[11] Burns, D.M., et al., "Mobile Retroreflectivity Measurement for Pavement Markings," *Transportation Research Record*, vol. 2055, pp. 60–70, 2008.

[12] Hochreiter, S., Schmidhuber, J., "Long Short-Term Memory," *Neural Computation*, vol. 9, no. 8, pp. 1735–1780, 1997.

[13] He, K., Zhang, X., Ren, S., Sun, J., "Deep Residual Learning for Image Recognition," *Proceedings of the IEEE Conference on Computer Vision and Pattern Recognition*, pp. 770–778, 2016.

A API Specification for RetroGuard Cloud Platform

```
# RetroGuard API - Core Endpoints

# Submit a retroreflectivity measurement
POST /api/v1/measurements
{
    "asset_type": "sign|marking|rpm|delineator",
    "gps_lat": 19.0760,
    "gps_lon": 72.8777,
    "highway_id": "NH-48",
    "chainage_km": 234.5,
    "rl_estimated": 145.3,
    "confidence": 0.87,
    "source_layer": "smartphone|cctv|dashcam",
    "image_hash": "sha256:...",
    "conditions": {
        "time": "night",
        "weather": "dry",
        "streetlight": false
    },
    "device_info": {
        "model": "Samsung Galaxy S24",
        "calibration_date": "2026-04-01"
    }
}

# Query asset health
GET /api/v1/assets/{asset_id}/health
Response: {
    "current_rl": 145.3,
    "irc_minimum": 150,
    "status": "warning",
    "predicted_failure_date": "2026-06-15",
    "confidence": 0.82,
    "recommendation": "Schedule replacement within 60 days"
}

# Generate compliance report
GET /api/v1/reports/compliance?highway=NH-48&from_km=200&to_km=300
Response: PDF report per IRC 67/35 standards
```

B Smartphone Calibration Algorithm

Algorithm 1 Smartphone Retroreflectivity Calibration and Measurement

Require: Reference patch with known $R_{L,ref}$, smartphone with RAW capture
Ensure: Calibrated retroreflectivity measurement $\hat{R}_L$

— **Calibration Phase (once per session)** —
Position phone at distance d_{cal} from reference patch
Capture RAW image with flash ON: I_{flash}
Capture RAW image with flash OFF: $I_{ambient}$
$P_{ref} \leftarrow \text{mean}(I_{flash} - I_{ambient})$ over patch region
$K_{cal} \leftarrow R_{L,ref}/P_{ref}$ ▷ Calibration constant

— **Measurement Phase (per target)** —
Aim phone at target sign/marking
Capture RAW image pair (flash ON/OFF)
Run YOLOv8 detection to identify target region
$P_{target} \leftarrow \text{mean}(I_{flash} - I_{ambient})$ over target region
Estimate distance d_{target} via known sign size or LiDAR
Compute geometric correction: $G = (d_{target}/d_{cal})^2 \cdot (\cos\beta_{cal}/\cos\beta_{target})$
$\hat{R}_L \leftarrow K_{cal} \cdot P_{target} \cdot G$

— **Quality Check** —
if $\text{SNR}(P_{target}) < 20$ dB **then**
  flag "Low confidence — retake measurement"
end if
return $\hat{R}_L$, confidence, GPS, timestamp